IT'S SIMPLE
IT'S CONVENIENT

RELEVANT INFORMATION
IN ONE PLACE

Tripster
TRAVEL APP

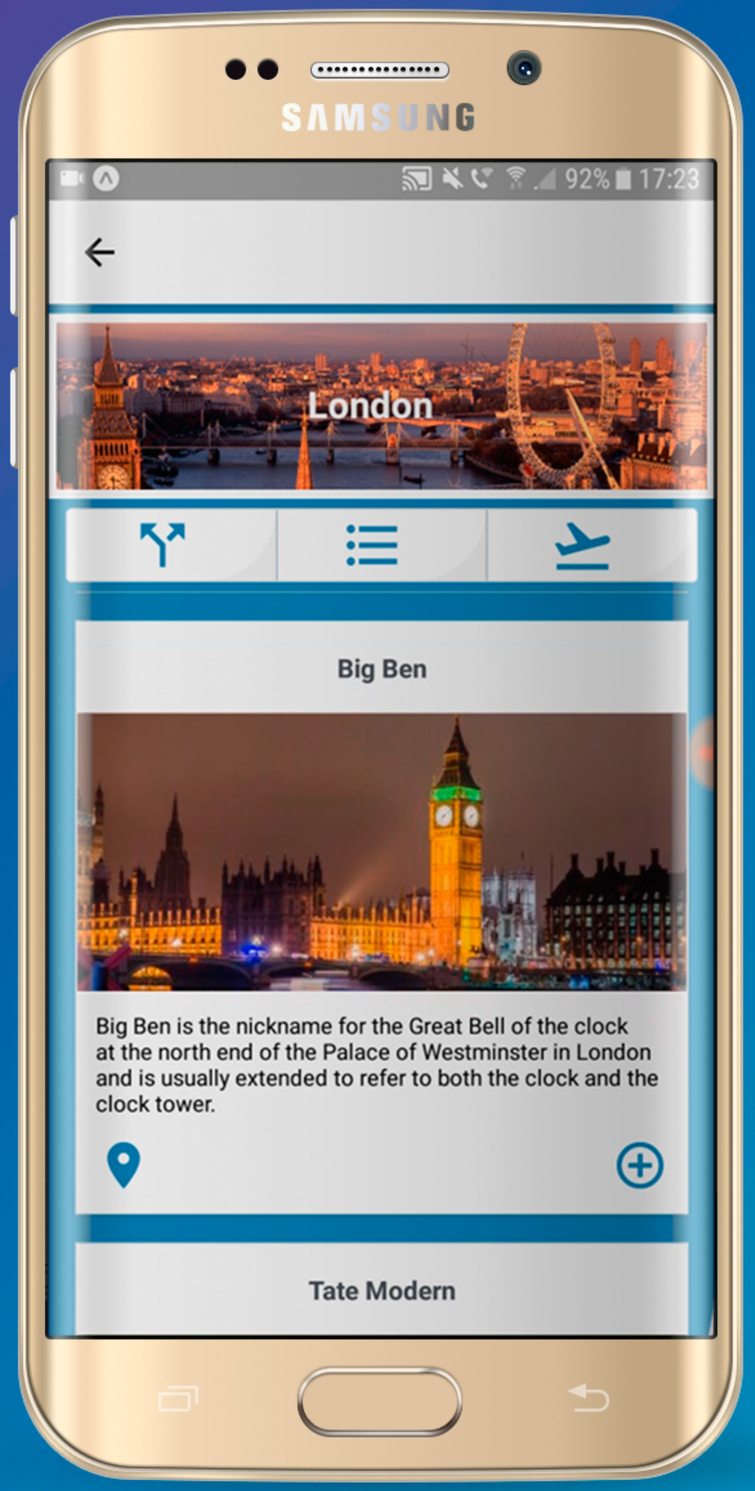

Tripster
TRAVEL APP

- TOP TOURIST ATTRACTIONS
- CHOOSE YOUR FAVOURITES
- CHOOSE YOUR HOTEL
- **WANT TO KNOW MORE?**

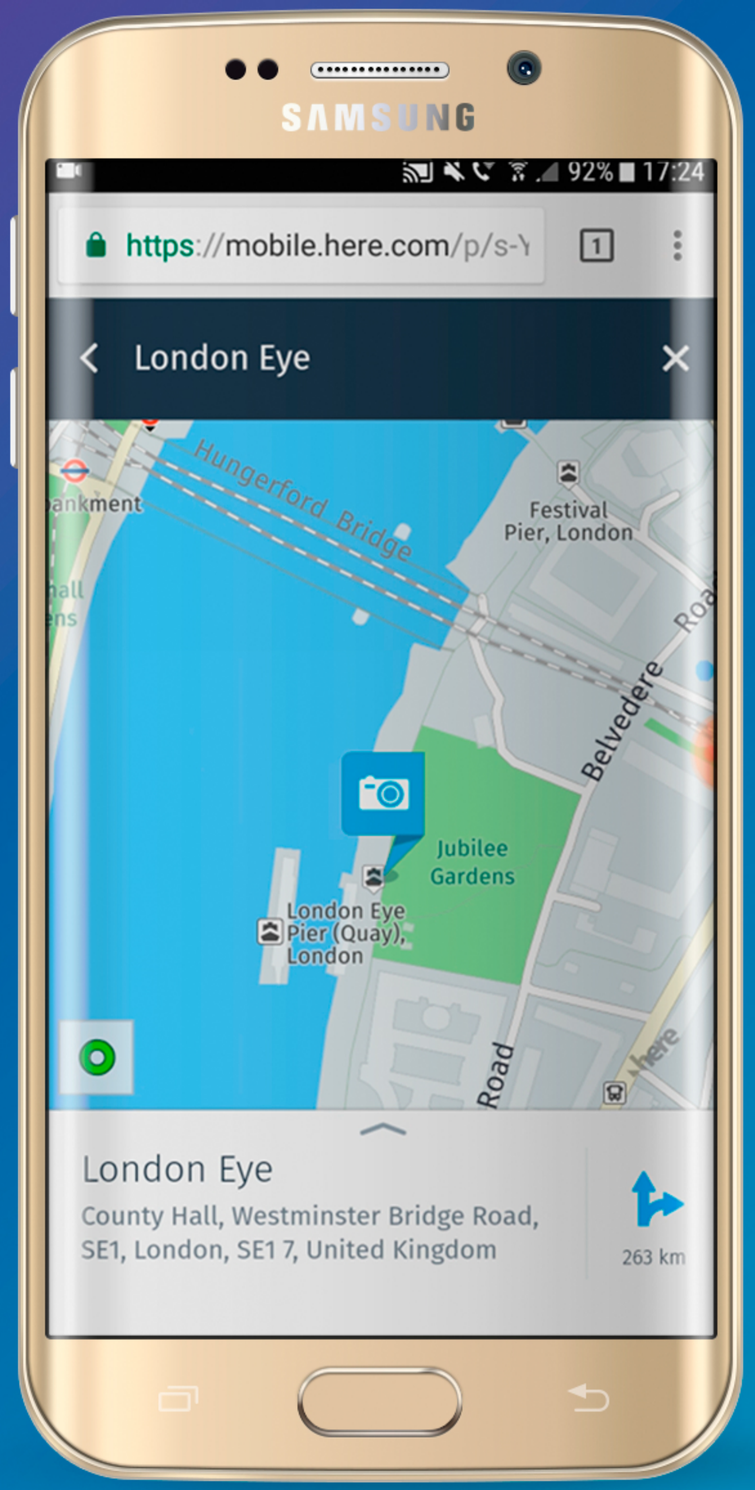

Tripster
TRAVEL APP

- TOP TOURIST ATTRACTIONS
- CHOOSE YOUR FAVOURITES
- CHOOSE YOUR HOTEL
- **WANT TO KNOW MORE?**

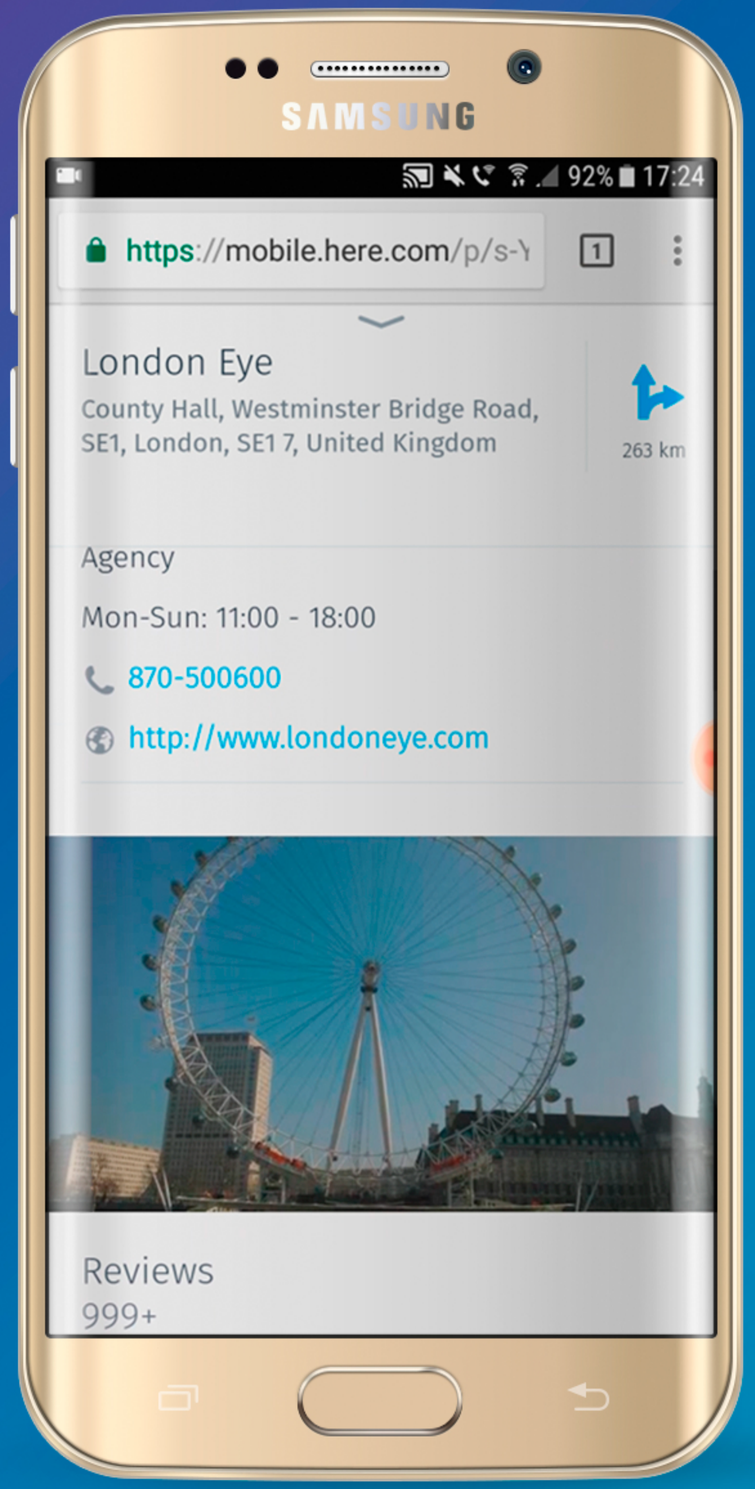

Tripster
TRAVEL APP

- TOP TOURIST ATTRACTIONS
- CHOOSE YOUR FAVOURITES
- CHOOSE YOUR HOTEL
- **WANT TO KNOW MORE?**

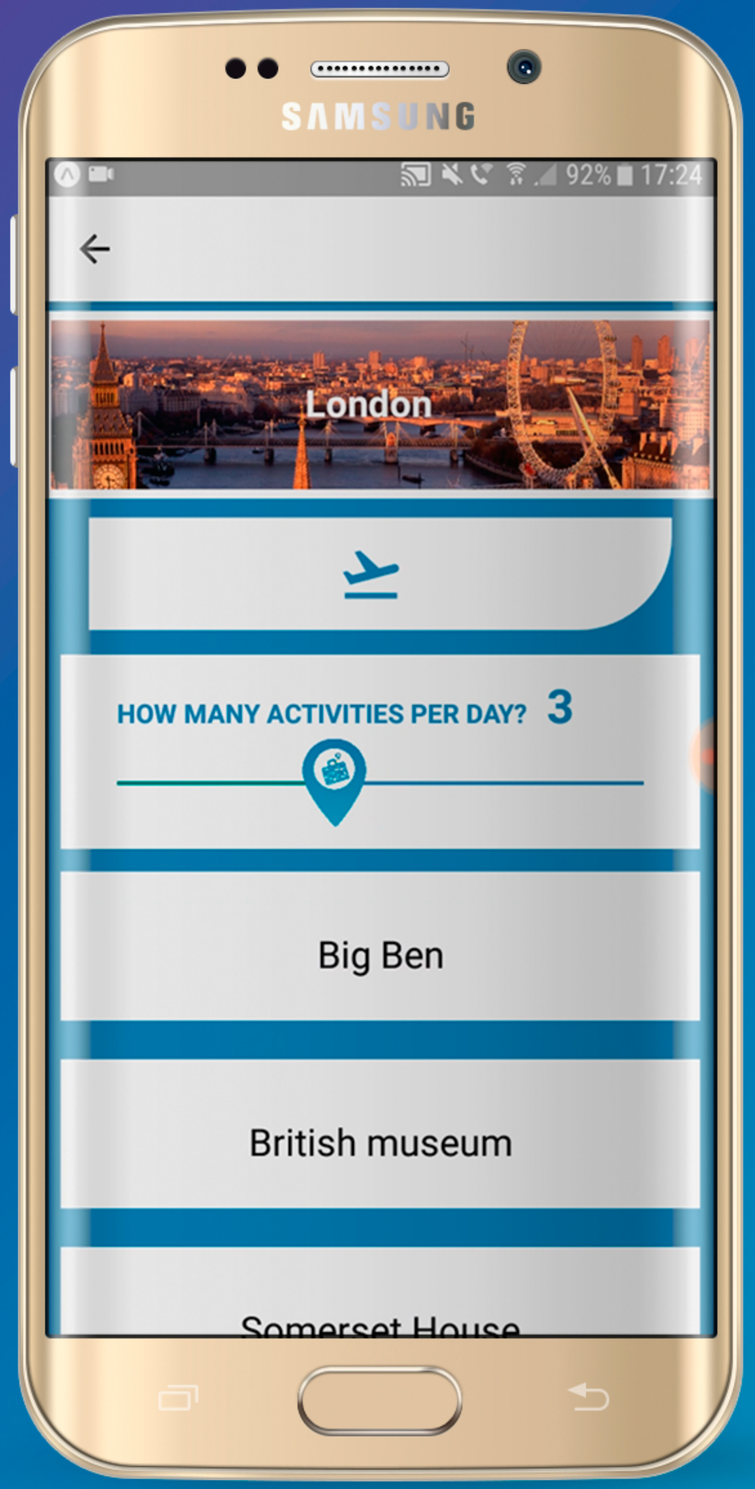

Tripster
TRAVEL APP

CHOOSE HOW MANY YOU WANT PER DAY

CHANGED YOUR MIND?

AND THE MAGIC HAPPENS...

Tripster
TRAVEL APP

- DAY BY DAY LAYOUT
- MOST EFFICIENT WAY
- TRAVEL TIME BETWEEN EACH POINT

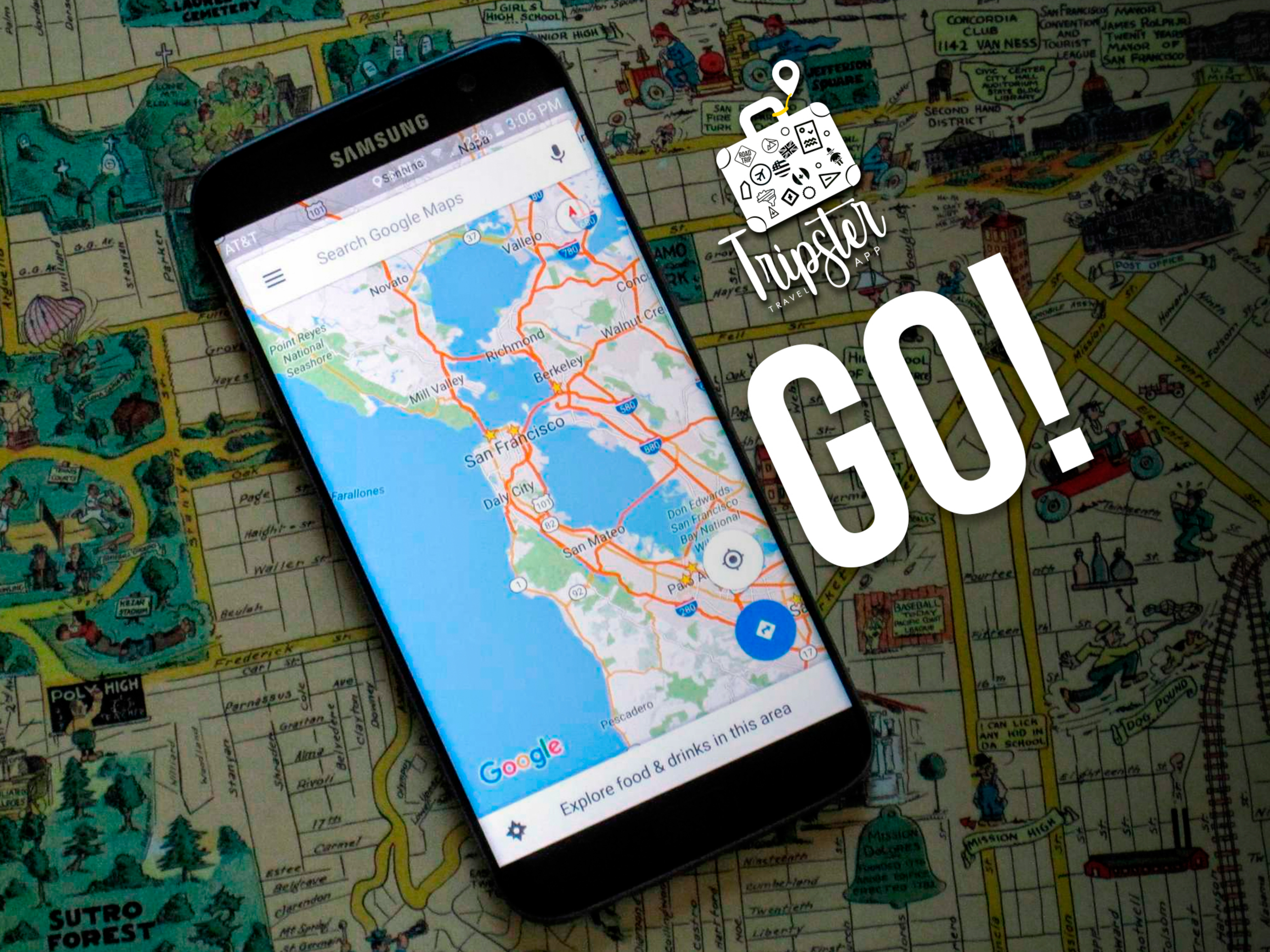
SAMSUNG
AT&T
3:06 PM
Search Google Maps
Napa
Vallejo
Novato
Point Reyes National Seashore
Richmond
Berkeley
Walnut Cre
Mill Valley
San Francisco
Farallones
Daly City
San Mateo
Don Edwards San Francisco Bay National
Pescadero
Google
Explore food & drinks in this area
Tripster
TRAVEL
APP
GO!

TECH STACK

FULL TDD WITH **MOCHA AND CHAI**

- FAST GRAPH DATABASE
- HIGH PERFORMANCE
- RELATIONSHIP VISUALISATION

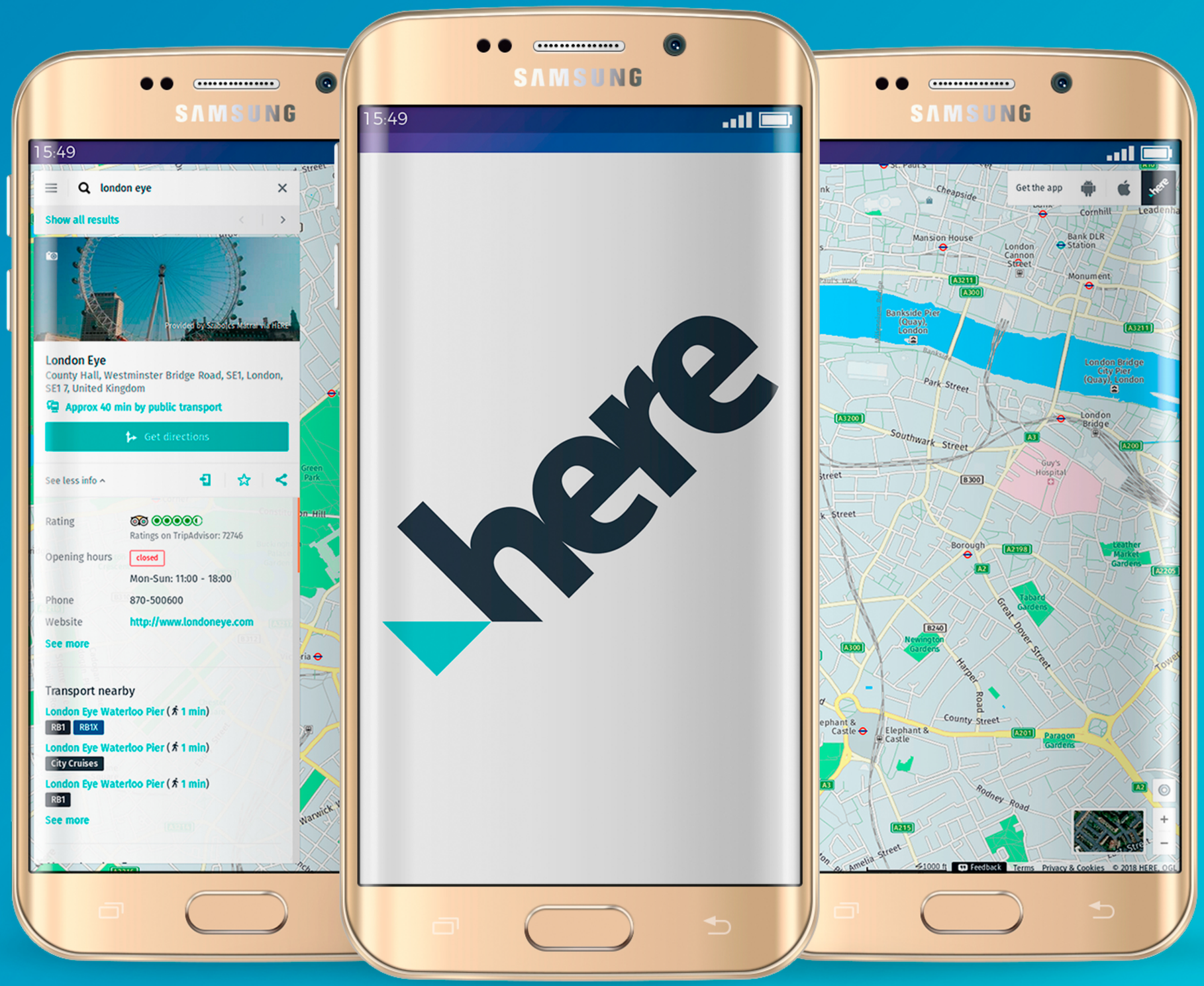

Tripster
TRAVEL APP


SAMSUNG
15:49
london eye
Show all results
London Eye
County Hall, Westminster Bridge Road, SE1, London, SE1 7, United Kingdom
Approx 40 min by public transport
Get directions
See less info
Rating
Ratings on TripAdvisor: 72746
Opening hours
closed
Mon-Sun: 11:00 - 18:00
Phone
870-500600
Website
http://www.londoneye.com
See more
Transport nearby
London Eye Waterloo Pier (1 min)
RB1
RB1X
London Eye Waterloo Pier (1 min)
City Cruises
London Eye Waterloo Pier (1 min)
RB1
See more
SAMSUNG
here
SAMSUNG
Get the app
Tripster
TRAVEL APP

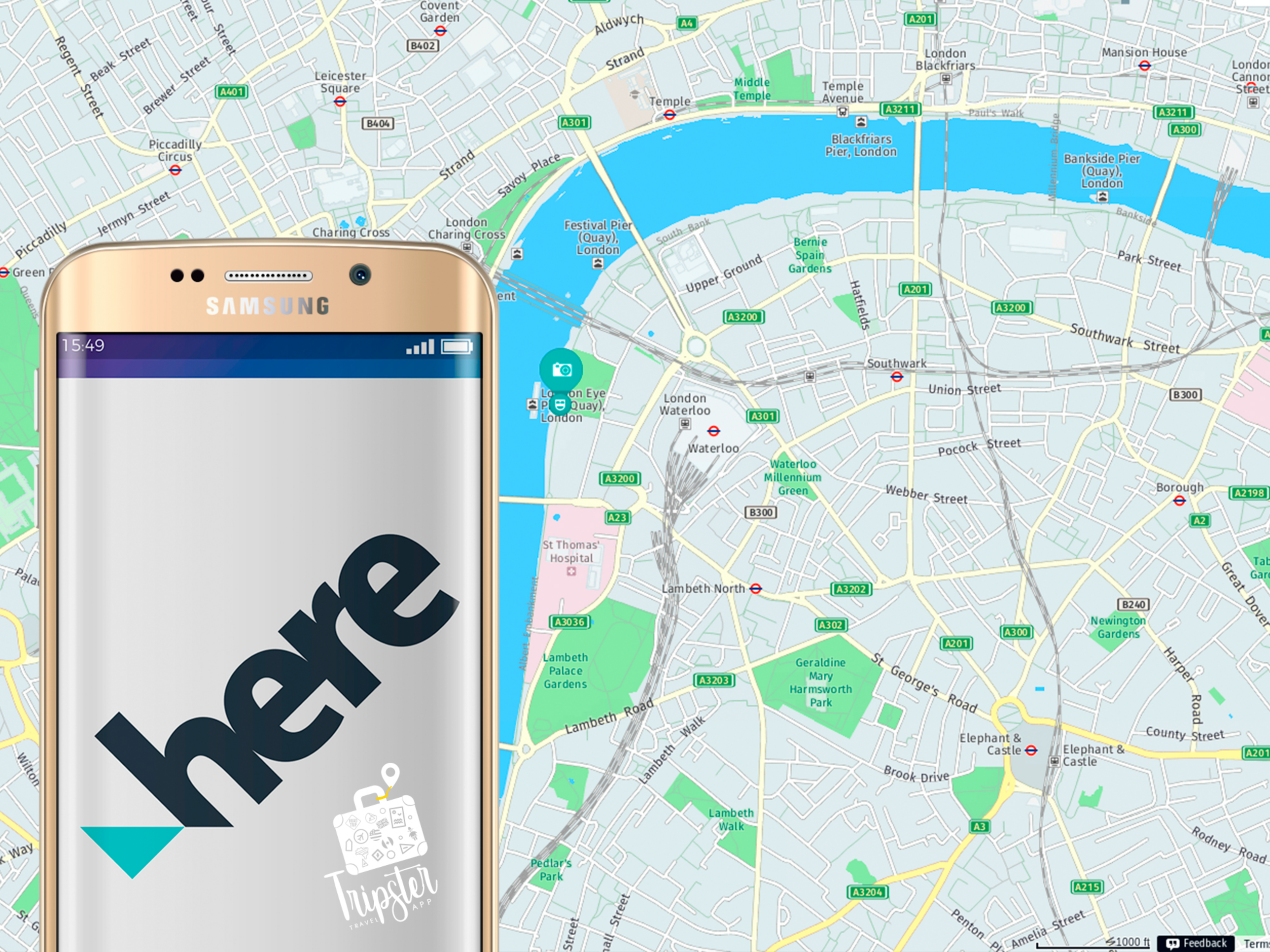
SAMSUNG
15:49
here
Tripster
TRAVEL APP
Covent Garden
Leicester Square
Piccadilly Circus
Charing Cross
London Charing Cross
Temple
Middle Temple
Temple Avenue
London Blackfriars
Mansion House
Blackfriars Pier, London
Bankside Pier (Quay), London
Festival Pier (Quay), London
Bernie Spain Gardens
Hatfields
Southwark
London Waterloo
Waterloo
Waterloo Millennium Green
Borough
St Thomas' Hospital
Lambeth North
Lambeth Palace Gardens
Geraldine Mary Harmsworth Park
Newington Gardens
Elephant & Castle
Lambeth Walk
Pedlar's Park
Regent Street
Beak Street
Brewer Street
Jermyn Street
Piccadilly
Strand
Aldwych
Savoy Place
Upper Ground
Park Street
Southwark Street
Union Street
Pocock Street
Webber Street
Lambeth Road
St George's Road
Harper Road
County Street
Brook Drive
Rodney Road
Amelia Street
Great Dover
Feedback

FRONT END:

DESKTOP + MOBILE APP VS MOBILE APP

BACK END:

DB OR NOT DB?

CHALLENGES

Tripster
TRAVEL APP

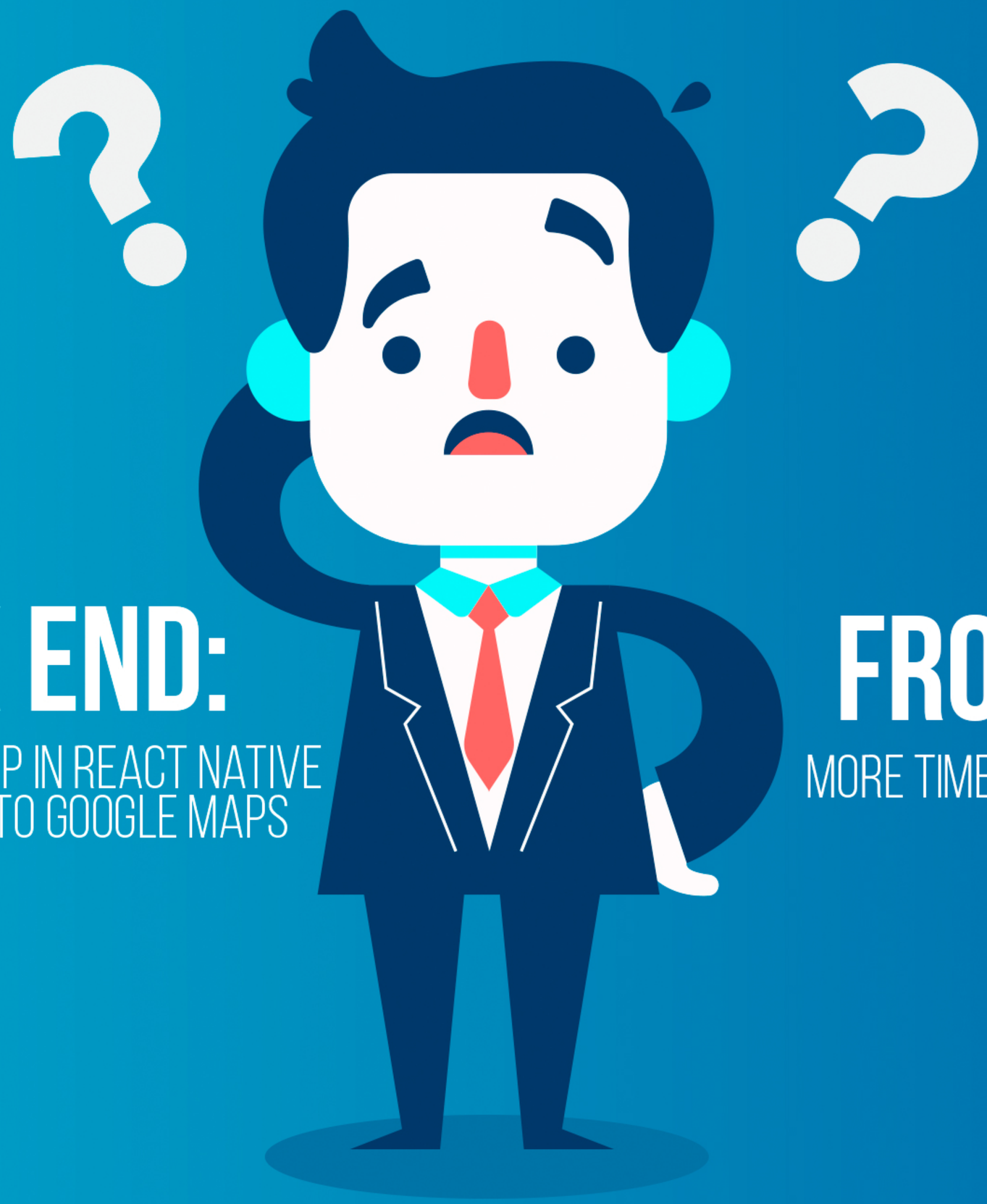

BACK END:

TRIED TO EMBED MAP IN REACT NATIVE INSTEAD OF LINK TO GOOGLE MAPS

FRONT END:

MORE TIME PLANNING PROTOTYPE

WHAT DONE **DIFFERENTLY?**

COMING SOON

- IDENTITY VERIFICATION VIA ETHEREUM BLOCKCHAIN
- SAVE ITINERARY
- AWS FOR SCALING
- ABILITY TO FIND THE BEST CHOICES TO EAT, DRINK, SHOP...
- REAL TIME ITINERARY UPDATES
- SHARE YOUR TRIP
- AUDIO GUIDE FOR EACH ITINERARY
- SORT PLACES BY BEST OR CLOSEST